Crime Density Across Washington, D.C.

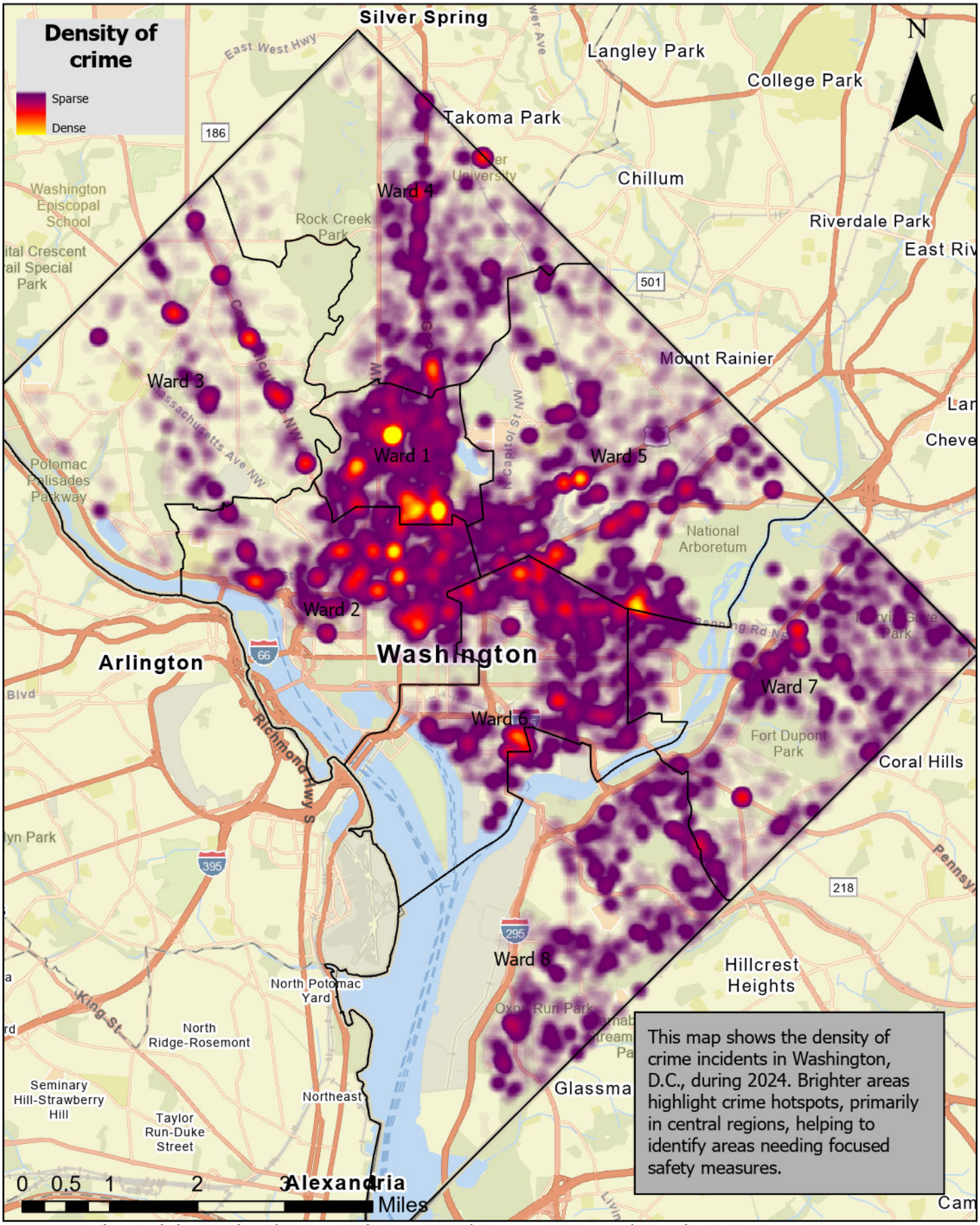

Author: Lakshmi Pathuri | Date : 18th Dec, 2024 | Source : Data.gov | Coordinate System : WGS 1984

Crime Distribution by Wards in Washington, D.C.

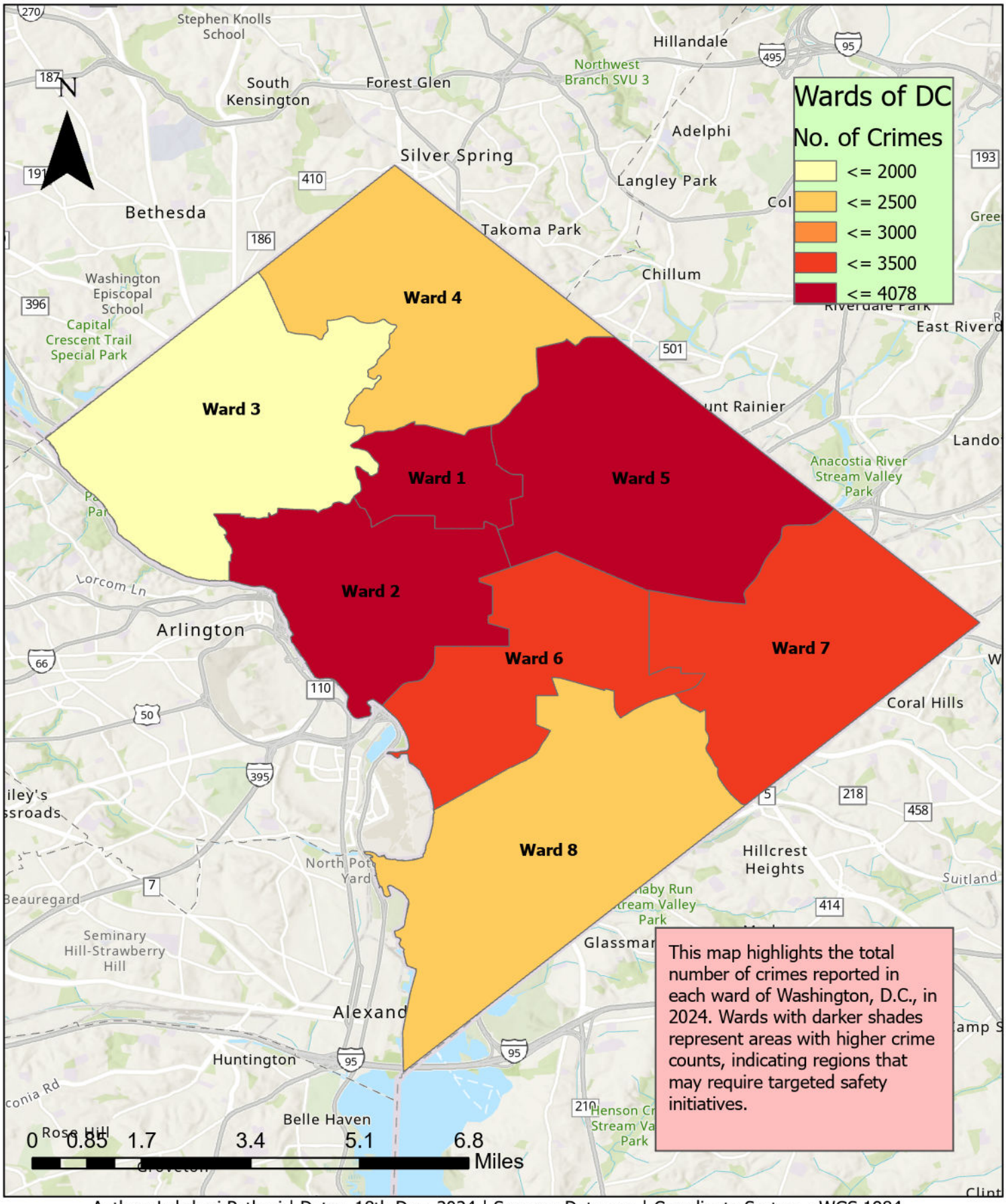

This map highlights the total number of crimes reported in each ward of Washington, D.C., in 2024. Wards with darker shades represent areas with higher crime counts, indicating regions that may require targeted safety initiatives.

Author: Lakshmi Pathuri | Date : 18th Dec, 2024 | Source : Data.gov | Coordinate System : WGS 1984

Types Of Crimes - Washington, D.C.

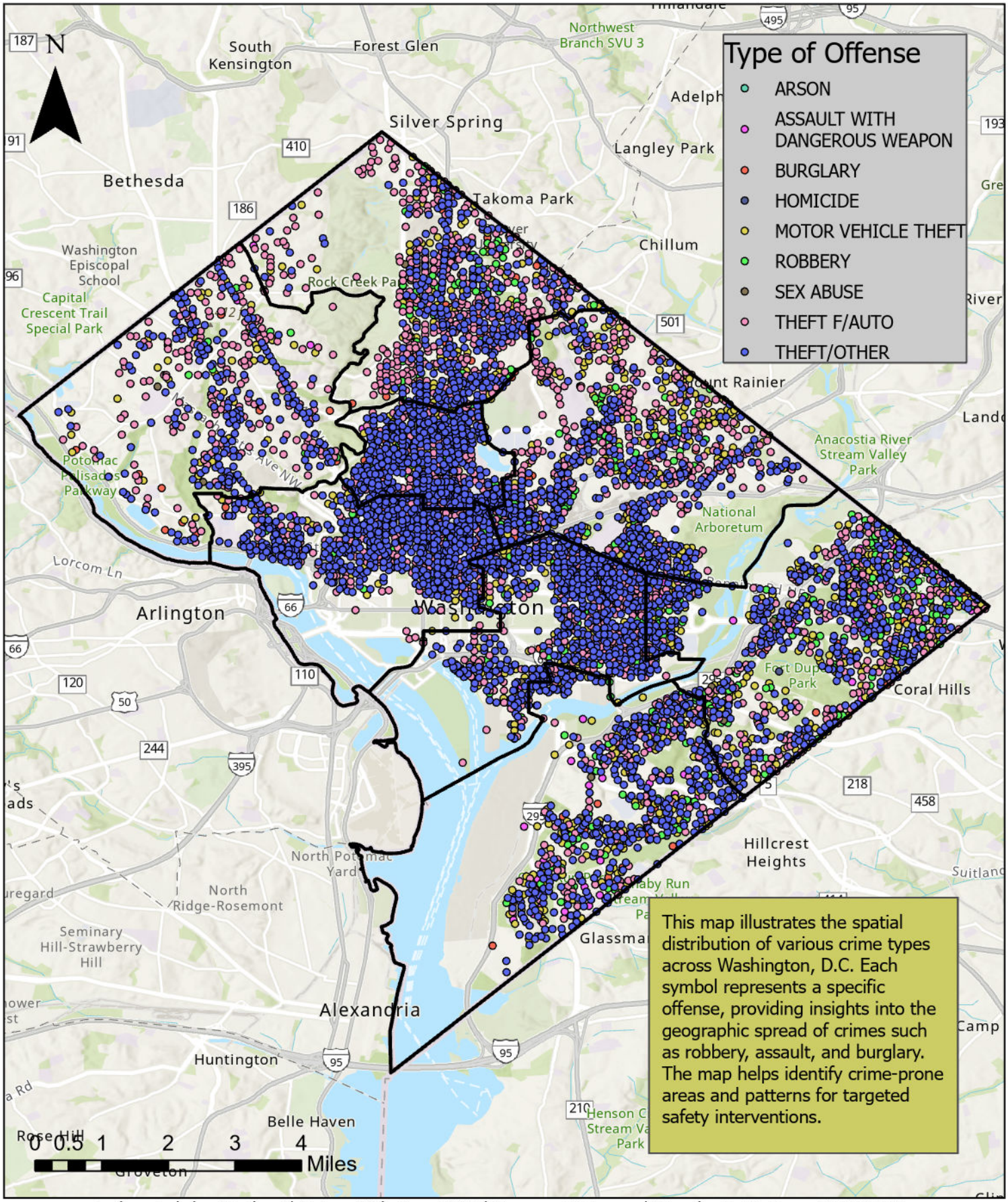

This map illustrates the spatial distribution of various crime types across Washington, D.C. Each symbol represents a specific offense, providing insights into the geographic spread of crimes such as robbery, assault, and burglary. The map helps identify crime-prone areas and patterns for targeted safety interventions.

Author: Lakshmi Pathuri | Date : 18th Dec, 2024 | Source : Data.gov | Coordinate System : WGS 1984

Types Of Crimes In Ward 1- Washington, D.C.

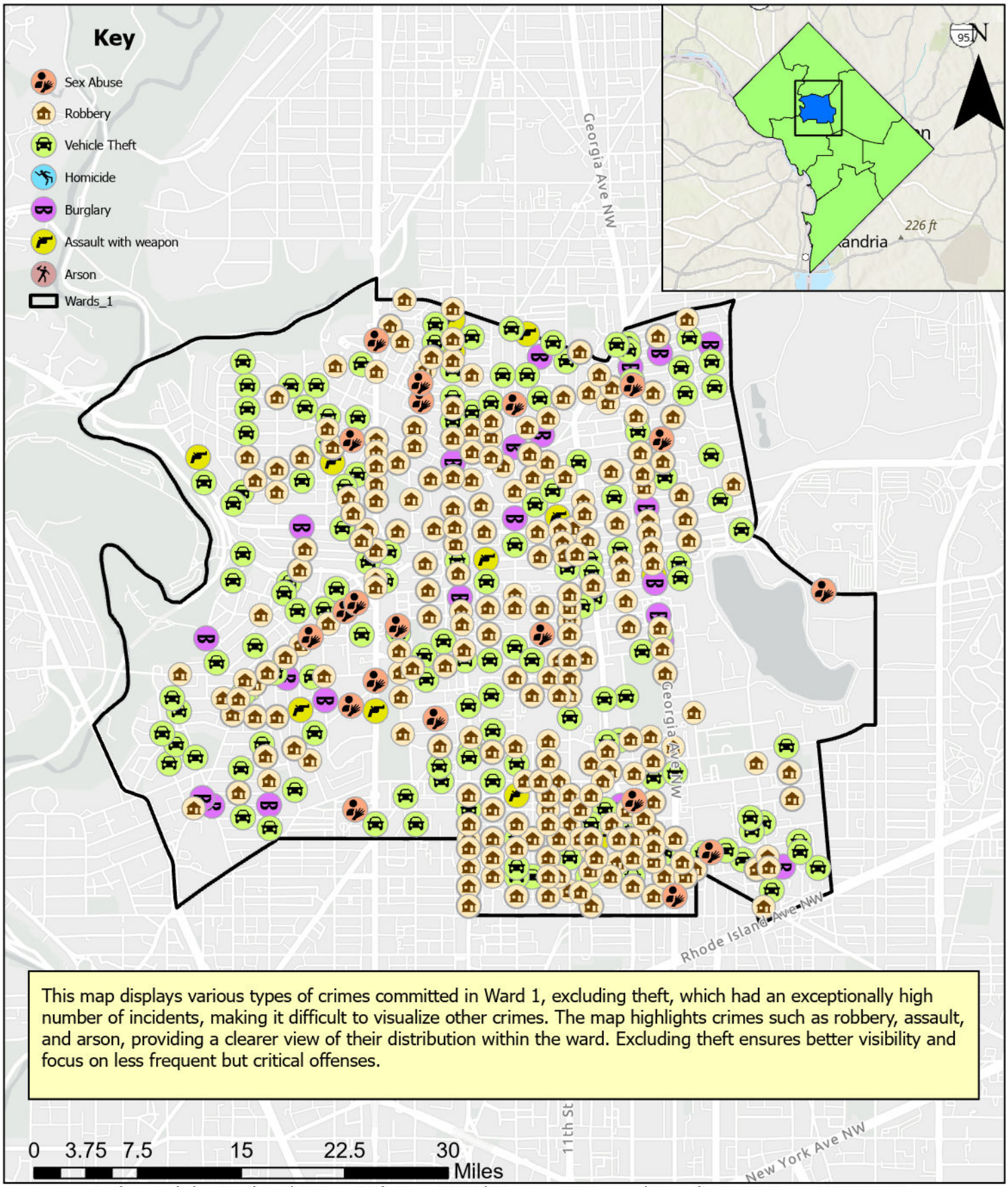

This map displays various types of crimes committed in Ward 1, excluding theft, which had an exceptionally high number of incidents, making it difficult to visualize other crimes. The map highlights crimes such as robbery, assault, and arson, providing a clearer view of their distribution within the ward. Excluding theft ensures better visibility and focus on less frequent but critical offenses.

Author: Lakshmi Pathuri | Date : 18th Dec, 2024 | Source : Data.gov | Coordinate System : WGS 1984

Time of Crime Incidents in Ward 1

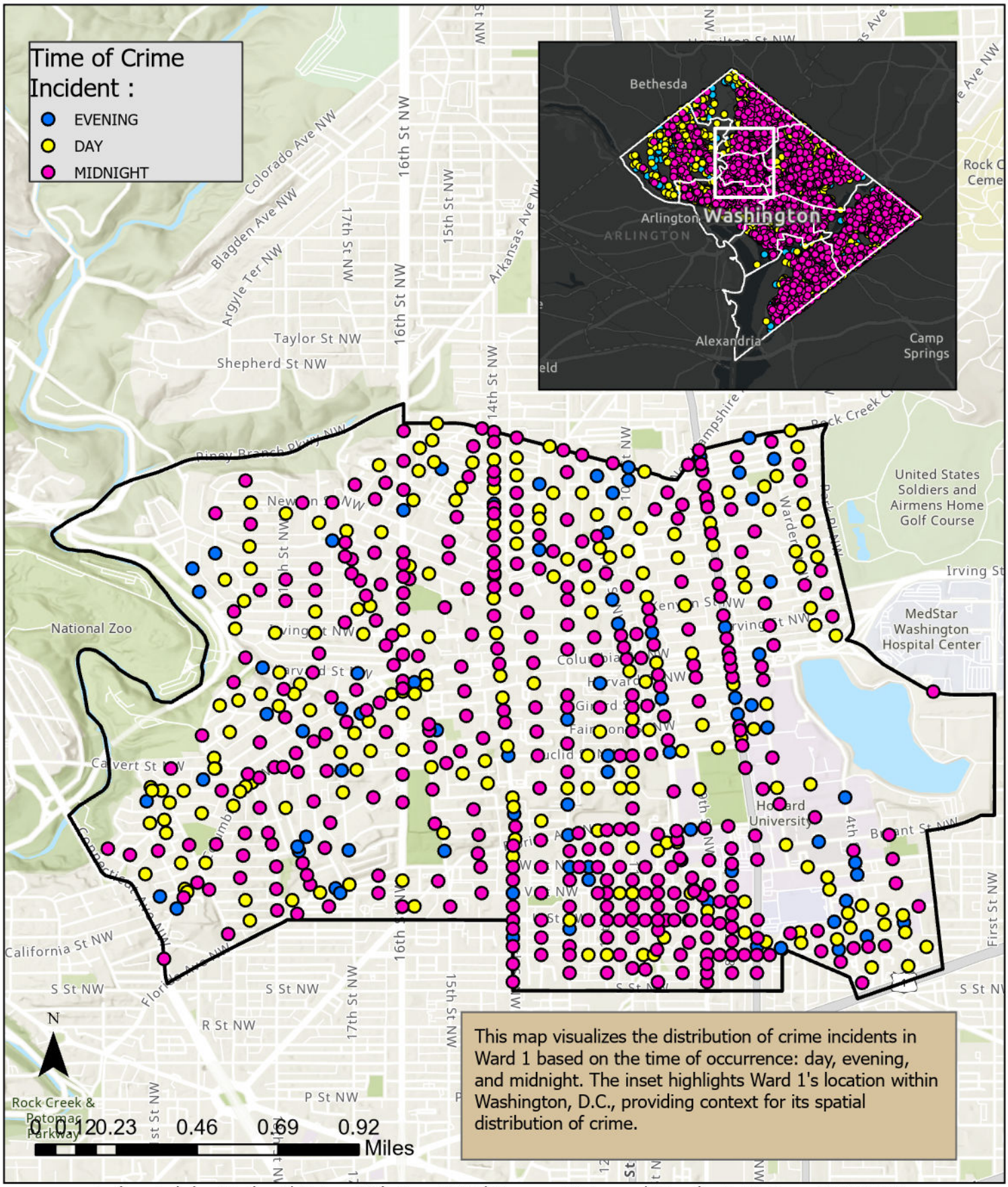

This map visualizes the distribution of crime incidents in Ward 1 based on the time of occurrence: day, evening, and midnight. The inset highlights Ward 1's location within Washington, D.C., providing context for its spatial distribution of crime.

Author: Lakshmi Pathuri | Date : 18th Dec, 2024 | Source : Data.gov | Coordinate System : WGS 1984